RUDOLPH SENECAL BARN
40 HARGRAVE ROAD
WINDSOR, NEW YORK 13865

GENERAL SCOPE OF WORK
- ALL CONSTRUCTION SHALL COMPLY WITH CURRENT BCNYS.
- VERIFY, LOCATE, AND MARK ALL PROPERTY UTILITIES. OBTAIN ALL PERMITS & CONNECT UTILITIES AS REQUIRED.

FIRST FLOOR / FOUNDATION REPAIR
- REPAIR EXIST. FOUNDATION WALL: TOOTH-IN 10" CMU INTO EXISTING DAMAGED FOUNDATION WALL, GROUT SOLID
- REPLACE DETERIORATED SILL PLATE W/ P.T. 2X SILL PLATE, MATCH EXIST. SILL PLATE WIDTH
- SUPPORT EXISTING FLOOR JOISTS AND LIFT TO LEVEL FLOOR
- LIFT / LEVEL EXTERIOR WALL WOOD BEAM (WEST WALL), INSTALL STEEL BEAM AND STEEL COLUMNS
- REMOVE CONCRETE SLAB FOR INSTALLING NEW STEEL COLUMN CONCRETE FOOTINGS AS REQUIRED
- INSTALL STEEL COLUMN CONCRETE FOOTINGS
- INSTALL STEEL COLUMNS / STEEL BEAMS
- REMOVE ALL CONCRETE SLAB
- INSTALL STONE / INSULATION / CONCRETE SLAB

EXTERIOR RAMP
- INSTALL RETAINING WALL
- INSTALL CONCRETE SONOTUBE
- INSTALL STEEL COLUMNS / STEEL BEAM
- INSTALL JOISTS / DECKING

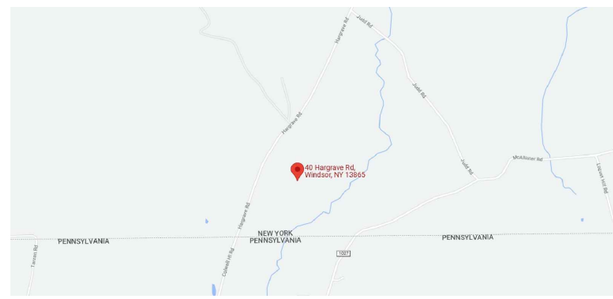

LOCATION MAP

N

LIST OF DRAWINGS

TS-1	TITLE SHEET
S-1	NOTES
S-2	EXISTING PLANS
S-3	PROPOSED FLOOR PLAN
S-4	SECTIONS
S-5	DETAILS

Code Design Information

Governing Code: Building Code of New York State 2020
Broome County
Town of Windsor
Occupancy Classification: A-3
Construction Classification: Type V-B Existing Level 2

Design Loading:

Main Floor	Slab on Grade
Second Floor	40 PSF LL 15 PSF DL
Roof Dead Load:	10 PSF
Ground Snow Load:	60 PSF
Importance Factor:	1.00
Wind Load:	115 MPH

REVISIONS

10

COA 0019839

PRELIMINARY
APPROVAL
CERTIFIED

SCALE: Noted
DRAWN BY: RTS
CURRENT DATE: 2/28/23

CUSTOMER: RUDOLPH SENECAL
GROUP:
LOCATION: 40 HARGRAVE RD. WINDSOR, NY 13865
JOB No.:

IT IS A VIOLATION OF LAW FOR ANY PERSON, UNLESS HE IS ACTING UNDER THE DIRECTION OF A LICENSED PROFESSIONAL ENGINEER TO ALTER THIS DOCUMENT.

STATE OF NEW YORK • RICHARD L. PIERCE • 54745 • LICENSED PROFESSIONAL ENGINEER

License expiration date: 6/30/2025

PIERCE ENGINEERING, P.C.
3975 AMBER ROAD SYRACUSE, NEW YORK 13215

TITLE SHEET
SENECAL BARN
WINDSOR, NEW YORK 13865

DWG. No.: TS-1
CAD FILE:

GENERAL NOTES

1. THE LOCATIONS OF EXISTING UNDERGROUND UTILITIES ARE SHOWN IN AN APPROXIMATE WAY ONLY AND HAVE NOT BEEN INDEPENDENTLY VERIFIED BY OWNER OR ITS REPRESENTATIVES. THE CONTRACTOR SHALL DETERMINE THE EXACT LOCATION OF ALL EXISTING UTILITIES BEFORE COMMENCING WORK, AND AGREES TO BE FULLY RESPONSIBLE FOR ANY AND ALL DAMAGES WHICH MIGHT BE OCCASIONED BY CONTRACTOR'S FAILURE TO EXACTLY LOCATE AND PRESERVE ANY AND ALL UNDERGROUND UTILITIES.

2. ALL CONSTRUCTION SHALL COMPLY WITH CURRENT BCNYS.

3. CONTRACTOR IS RESPONSIBLE FOR VERIFYING ALL DIMENSIONS AND BUILDING CONDITIONS FOUND BY ONSITE INSPECTIONS.

4. CONTRACTOR SHALL DETERMINE THE EXACT LOCATION OF ALL EXISTING UTILITIES BEFORE COMMENCING WORK, AND AGREES TO BE FULLY RESPONSIBLE FOR ANY AND ALL DAMAGES WHICH MIGHT BE OCCASIONED BY CONTRACTOR'S FAILURE TO EXACTLY LOCATE AND PRESERVE ANY AND ALL UTILITIES.

5. CONTRACTOR SHALL VERIFY ALL WINDOW AND DOOR OPENINGS AND LOCATIONS W/ OWNER.

6. CONTRACTOR SHALL VERIFY ALL MECHANICAL / ELECTRICAL / PLUMBING FIXTURES W/ OWNER.

SITE PREPARATION

1. PREVENT SURFACE WATER AND SURFACE OR GROUND WATER FROM FLOWING INTO EXCAVATIONS AND FROM FLOODING. PROTECT SITE AND SURROUNDING AREA.

2. STOCKPILE EXCAVATED MATERIALS ACCEPTABLE FOR BACKFILL AND FILL WHERE DIRECTED. PLACE, GRADE AND SHAPE STOCKPILES FOR PROPER DRAINAGE.

3. DISPOSE OF NECESSARY EXCAVATED SOIL MATERIAL AND MATERIALS NOT ACCEPTABLE FOR USE AS BACKFILL OR FILL.

4. CONFORM TO ELEVATIONS AND DIMENSIONS SHOWN WITHIN A TOLERANCE OF PLUS OR MINUS 0.10 FT. AND EXTENDING A SUFFICIENT DISTANCE FROM FOOTINGS AND FOUNDATIONS 10 FEET FROM PLACING AND REMOVAL OF CONCRETE FORMWORK INSTALLATION OF SERVICES AND OTHER CONSTRUCTION AND FOR INSPECTION.

5. COMPACT EACH LAYER TO REQUIRED PERCENTAGE OF MAXIMUM DRY DENSITY OR RELATIVE DRY DENSITY FOR EACH AREA CLASSIFICATION. DO NOT PLACE BACKFILL OR FILL MATERIAL ON SURFACES THAT ARE MUDDY, FROZEN OR CONTAIN FROST OR ICE.

6. EXCAVATOR SHALL BE AWARE THAT THERE MAY BE BURIED PIPES NOT INDICATED ON PLANS. CARE SHALL BE TAKEN TO PREVENT DAMAGE TO SUCH HIDDEN MATERIAL. IN THE EVENT THAT THERE ARE BURIED PIPES OR OTHER MATERIAL IN THE WAY OF THE PLANNED FOUNDATION, REMOVAL OR RE-ROUTING WILL BE HANDLED AS A FIELD CHANGE ORDER AT THE DIRECTION OF THE ENGINEER OF RECORD.

7. PLACE BACKFILL AND FILL MATERIAL IN LAYERS TO REQUIRED SUBGRADE ELEVATIONS, FOR EACH AREA CLASSIFICATION LISTED BELOW:

8. UNDER GRASS AREAS, USE SATISFACTORY EXCAVATED OR BORROWED MATERIAL.

9. GROUND SURFACE PREPARATION: REMOVE VEGETATION, DEBRIS, UNSATISFACTORY SOIL MATERIALS, OBSTRUCTIONS AND DELIRIOUS MATERIALS FROM GROUND SURFACE PRIOR TO PLACEMENT OF FILLS. PLOW STRIP, OR BREAK UP SLOPED SURFACES STEEPER THAN ONE VERTICAL TO FOUR HORIZONTAL SO THAT FILL MATERIAL WILL BOND WITH EXISTING SURFACE.

10. PLACE BACKFILL AND MATERIAL IN LAYERS AS NECESSARY TO PROVIDE OPTIMUM MOISTURE CONTENT. COMPACT EACH LAYER TO REQUIRED PERCENTAGE OF MAXIMUM DRY DENSITY OR RELATIVE DRY DENSITY FOR EACH AREA CLASSIFICATION. DO NOT PLACE BACKFILL OR FILL MATERIAL ON SURFACES THAT ARE MUDDY, FROZEN OR CONTAIN FROST OR ICE.

11. COMPACT SOIL TO NOT LESS THAN THE FOLLOWING PERCENTAGE OF MAXIMUM DENSITY, IN ACCORDANCE WITH ASTM D 1557:

12. UNDER STRUCTURES, BUILDING SLABS AND STEPS AND PAVEMENTS, COMPACT TOP 12" OF SUBGRADE AND EACH LAYER OF BACKFILL OR FILL MATERIAL AT 95% MAXIMUM DENSITY.

13. UNDERLAWN OR UNPAVED AREAS, COMPACT TOP 6" OF SUBGRADE AND EACH LAYER OF BACKFILL OR FILL MATERIAL AT 95% MAXIMUM DENSITY.

14. MAINTAIN ACCESS FOR VEHICULAR AND PEDESTRIAN TRAFFIC AS REQUIRED FOR OTHER CONSTRUCTION ACTIVITIES.

15. WHERE SETTLING IS MEASURABLE OR OBSERVABLE AT EXCAVATED AREAS DURING GENERAL PROJECT WARRANTY PERIOD, REMOVE SURFACE (PAVEMENT, LAWN OR OTHER FINISH), ADD BACKFILL MATERIAL, COMPACT AND REPLACE SURFACE TREATMENT. RESTORE APPEARANCE, QUALITY AND CONDITION OF SURFACE OR FINISH TO MATCH ADJACENT WORK AND ELIMINATE EVIDENCE OF RESTORATION TO GREATEST EXTENT POSSIBLE.

16. WHEN EXCAVATING FOR FOUNDATION FOOTINGS IF BEDROCK IS ENCOUNTERED FOOTING OR PIER MAY BE PLACED DIRECTLY ON BEDROCK AT DIRECTION OF ENGINEER.

CONCRETE SPECIFICATIONS

1. ALL CONCRETE MATERIALS AND PLACEMENT SHALL CONFORM WITH THE LATEST EDITION ACI BUILDING CODES REQUIREMENTS FOR REINFORCED CONCRETE (ACI 318-19).

2. REINFORCING BARS: DEFORMED STEEL BARS, ASTM A 615, GRADE 60.

3. 2" MINIMUM REBAR COVER

4. FIBER ADMIX BUCKEYE ULTRAFIBER 500, 2 LB/CY

5. DESIGN MIX TO PRODUCE NORMAL-WEIGHT CONCRETE CONSISTING OF PORTLAND CEMENT, #1 AGGREGATE, WATER-REDUCING OR HIGH-RANGE WATER-REDUCING ADMIXTURE (SUPERPLASTICIZER), AIR-ENTRAINING AND WATER TO PRODUCE THE FOLLOWING PROPERTIES:

6. COMPRESSIVE STRENGTH: 4,000 PSI, MINIMUM AT 28 DAYS. SLUMP LIMITS: 8" MINIMUM FOR CONCRETE

7. HIGH-RANGE WATER-REDUCING ADMIXTURE (SUPERPLASTICIZER) +- 4" FOR OTHER CONCRETE AIR CONTENT: 4% TO 6% WATER CEMENT RATIO: 0.44 MAXIMUM.

8. FINISH CONCRETE SURFACE BY APPLYING UNIFORM FLOAT FINISH FREE OF HEAVY TOOL MARKS.

9.. HYDRATE SLAB FOR MINIMUM 7 DAYS USING PLASTIC COVER OR EQUIV. WITH SOAKER COVERAGE.

10. SEAL SLAB SURFACE WITH SONOCRETE KURE-N-SEAL WB OR EQUIVALENT DUSTPROOF COMPOUND.

11. PROTECT CONCRETE FROM DAMAGE UNTIL ACCEPTANCE OF WORK EXCLUDE TRAFFIC FROM PAVEMENT FOR AT LEAST 14 DAYS AFTER PLACEMENT. WHEN CONSTRUCTION TRAFFIC IS PERMITTED, MAINTAIN PAVEMENT AS CLEAN AS POSSIBLE BY REMOVING SURFACE STAINS AND SPILLAGE OF MATERIALS AS THEY OCCUR.

STRUCTURAL NOTES

1. STRUCTURAL STEEL: ASTM A36

2. TUBING: ASTM A500

3. BOLTS: ASTM A325, $\frac{3}{4}$" DIA., UNLESS OTHERWISE NOTED.

4. GRIND ALL STEEL EDGES AND CORNERS SMOOTH.

5. ALL WELDING SHALL BE DONE IN ACCORDANCE WITH THE AWS CODE FOR WELDING IN BLDG. CONSTRUCTION. SHOP AND FIELD WELDING ELECTRODES SHALL BE E70XX, ASTM A233. ALL WELDING SHALL BE DONE BY CERTIFIED WELDERS.

6 TACK WELD ALL CONNECTIONS WHERE SLOTTED HOLES ARE LOCATED.

MASONRY

1. MASONRY UNITS: ASTM C90, GRADE N-1, NORMAL WEIGHT

2. MORTAR: ASTM C270, TYPE N - BY PROPORTION

3. GROUT FOR CONC BLOCKS: ASTM C476, USE TRANSIT-MIX GROUT, 4,000 PSI.

4. GROUT TO FILL CORES (LOW LIFT): ASTM C376; USE BATCH-PLANT TRANSIT MIX CONCRETE GROUT (3000 PSI MIN.). CLEAN OUT BOTTOM COURSE @ EACH LIFT.

5. GROUT FOR BEARING PLATES: NON-SHRINK, EMBECO, MASTER-BUILDERS OR EQUIV.

6. HORIZONTAL JOINT REINFORCEMENT: SHALL BE LADDER TYPE NO. 10 FOR 10" CMU, EVERY OTHER COURSE

7. EXPANSION JOINTS: 30' O.C. MAX, AND AS INDICATED ON DRAWINGS.

8. ARRANGE FOR SITE OBSERVATION BY ENGINEER BEFORE FILLING CORES.

REVISIONS	
	10
	COA 0019839

PRELIMINARY APPROVAL CERTIFIED	SCALE: Noted DRAWN BY: RTS CURRENT DATE: 2/28/23

CUSTOMER: RUDOLPH SENECAL
GROUP:
LOCATION: 40 HARGRAVE RD. WINDSOR, NY 13865
JOB No.:

IT IS A VIOLATION OF LAW FOR ANY PERSON, UNLESS HE IS ACTING UNDER THE DIRECTION OF A LICENSED PROFESSIONAL ENGINEER TO ALTER THIS DOCUMENT.

STATE OF NEW YORK · RICHARD L. PIERCE · 074749 · LICENSED PROFESSIONAL ENGINEER

License expiration date: 6/30/2025

PIERCE ENGINEERING, P.C.
3975 AMBER ROAD SYRACUSE, NEW YORK 13215

NOTES
SENECAL BARN
WINDSOR, NEW YORK 13865

DWG. No.: S-1
CAD FILE:

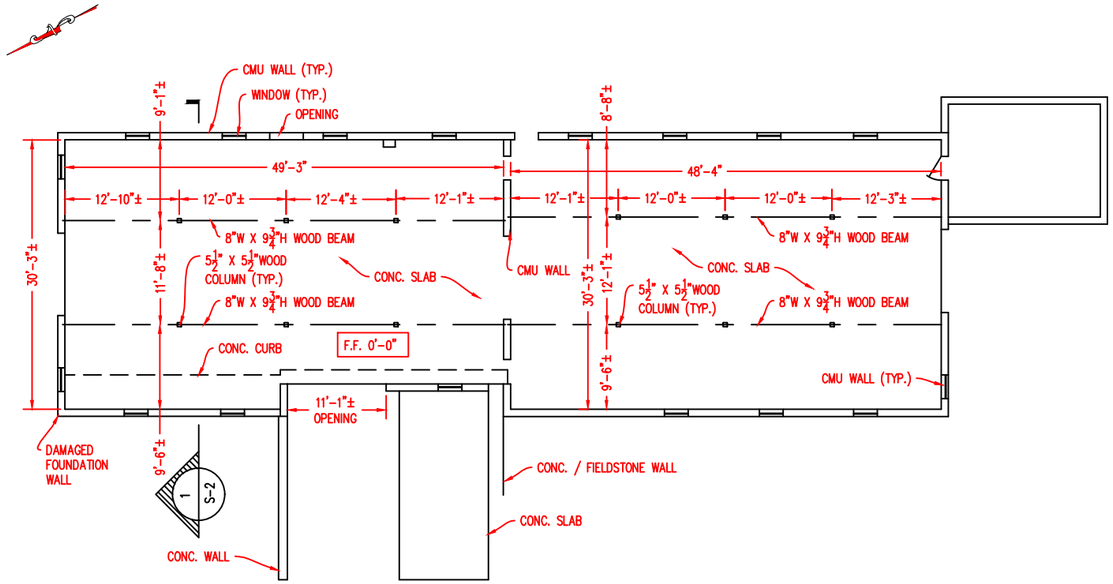

A1 EXISTING FLOOR PLAN
SCALE: 1/8" = 1'-0"

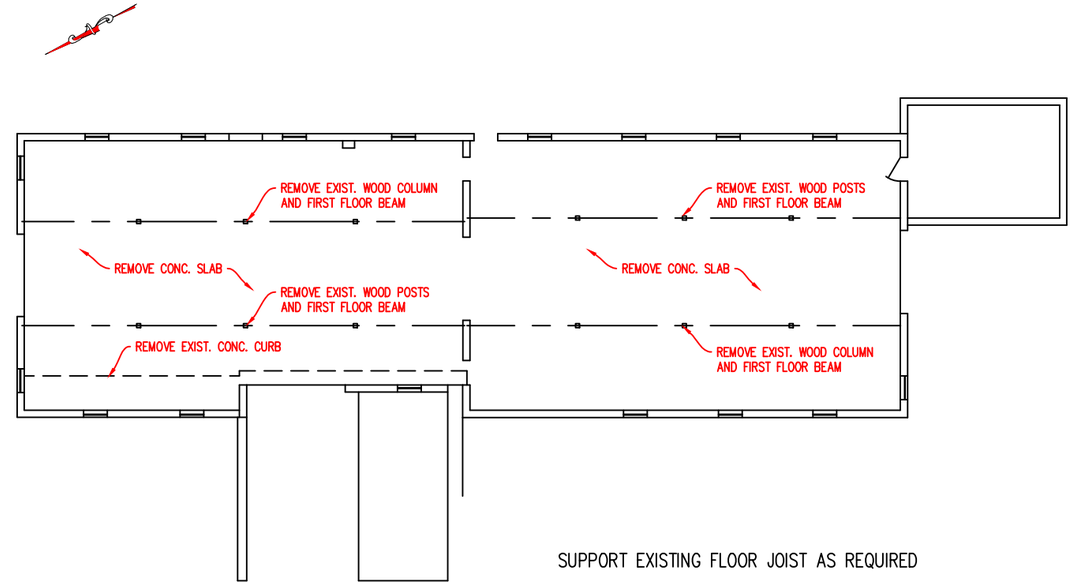

A2 DEMOLITION PLAN
SCALE: 1/8" = 1'-0"

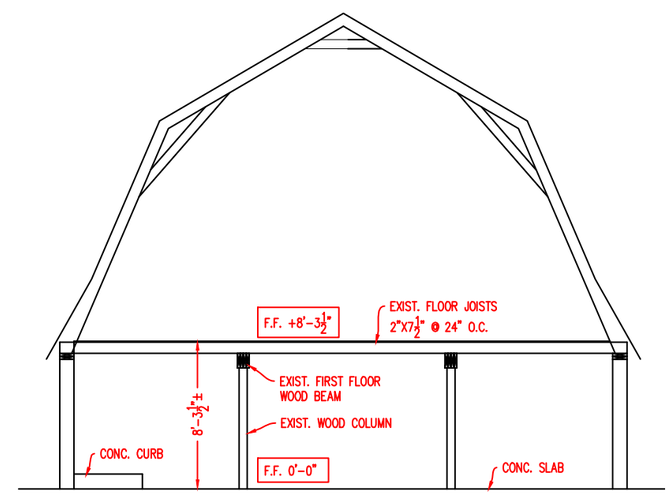

1 S-2 SECTION
SCALE: 1/2" = 1'-0"

IT IS A VIOLATION OF LAW FOR ANY PERSON, UNLESS HE IS ACTING UNDER THE DIRECTION OF A LICENSED PROFESSIONAL ENGINEER TO ALTER THIS DOCUMENT.

STATE OF NEW YORK · RICHARD L. PIERCE · 64748 · LICENSED PROFESSIONAL ENGINEER

Richard L. Pierce

License expiration date: 6/30/2025

PIERCE ENGINEERING, P.C.
3975 AMBER ROAD SYRACUSE, NEW YORK 13215

EXISTING / DEMOLITION PLANS
SENECAL BARN
WINDSOR, NEW YORK 13865

DWG. No.: S-2
CAD FILE:

REVISIONS

10

COA 0019839

PRELIMINARY
APPROVAL
CERTIFIED

SCALE: Noted
DRAWN BY: RTS
CURRENT DATE: 2/28/23

CUSTOMER: RUDOLPH SENECAL
GROUP:
LOCATION: 40 HARGRAVE RD. WINDSOR, NY 13865
JOB No.:

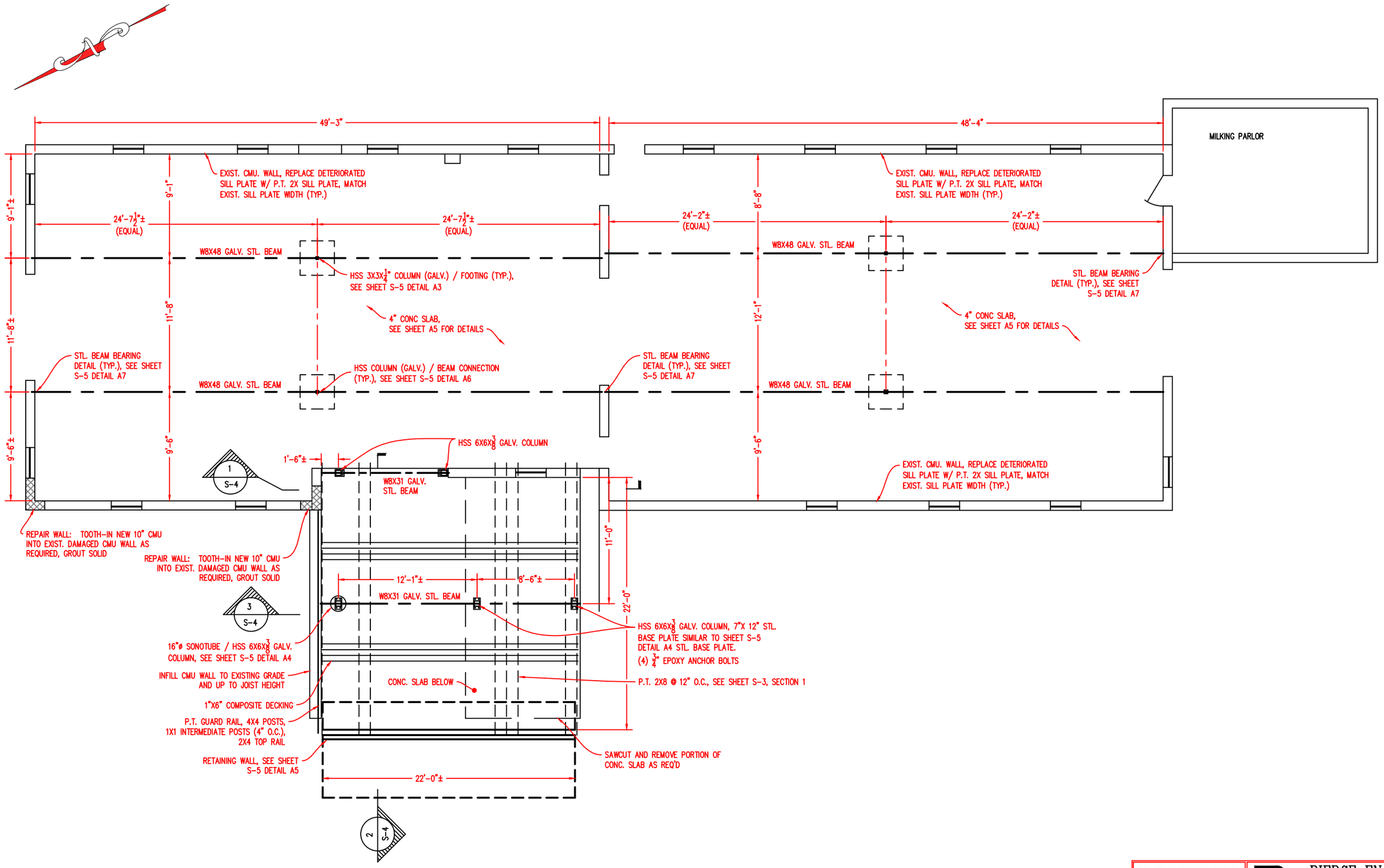

A1 PROPOSED FLOOR PLAN

SCALE: 1/4" = 1'-0"

REVISIONS	

10

COA 0019539

PRELIMINARY APPROVAL CERTIFIED

SCALE: Noted
DRAWN BY: RTS
CURRENT DATE: 2/28/23

CUSTOMER: RUDOLPH SENECAL
GROUP:
LOCATION: 40 HARGRAVE RD. WINDSOR, NY 13865
JOB No.:

IT IS A VIOLATION OF LAW FOR ANY PERSON, UNLESS HE IS ACTING UNDER THE DIRECTION OF A LICENSED PROFESSIONAL ENGINEER TO ALTER THIS DOCUMENT.

STATE OF NEW YORK · RICHARD L. PIERCE · 84748 · LICENSED PROFESSIONAL ENGINEER

License expiration date: 6/30/2025

PIERCE ENGINEERING, P.C.
3975 AMBER ROAD SYRACUSE, NEW YORK 13215

PROPOSED FLOOR PLAN
SENECAL BARN
WINDSOR, NEW YORK 13865

DWG. No.: S-3
CAD FILE:

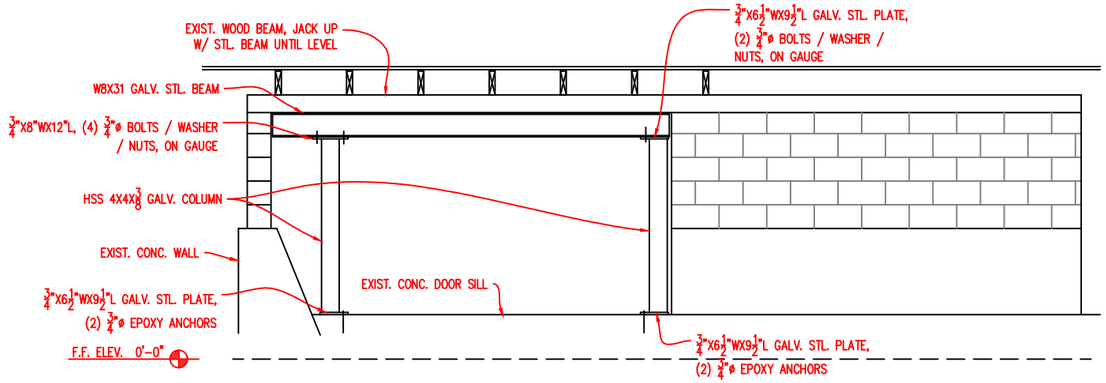

1 / S-4 STEEL BEAM SUPPORT SECTION (ELEVATION LOOKING EAST)

SCALE: 1/2" = 1'-0"

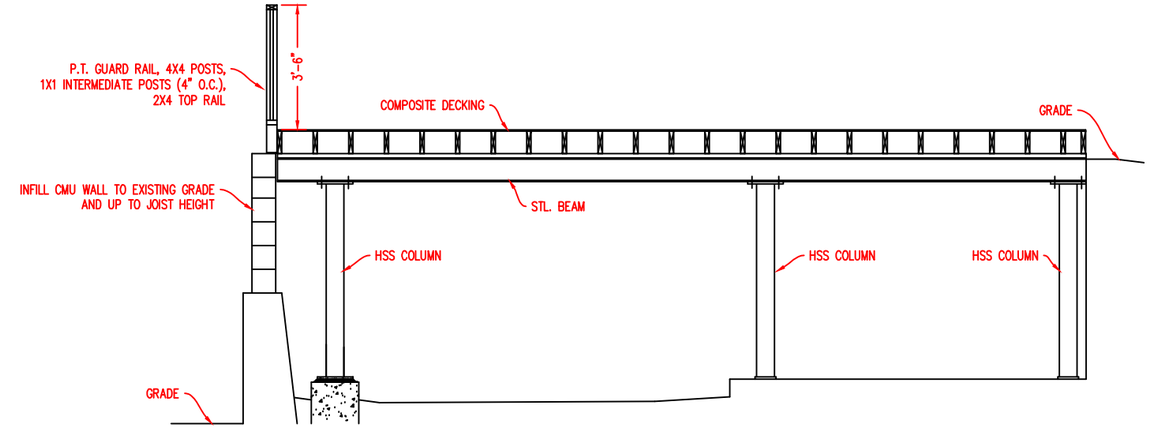

3 / S-4 RAMP SECTION – (ELEVATION LOOKING EAST)

SCALE: 1/2" = 1'-0"

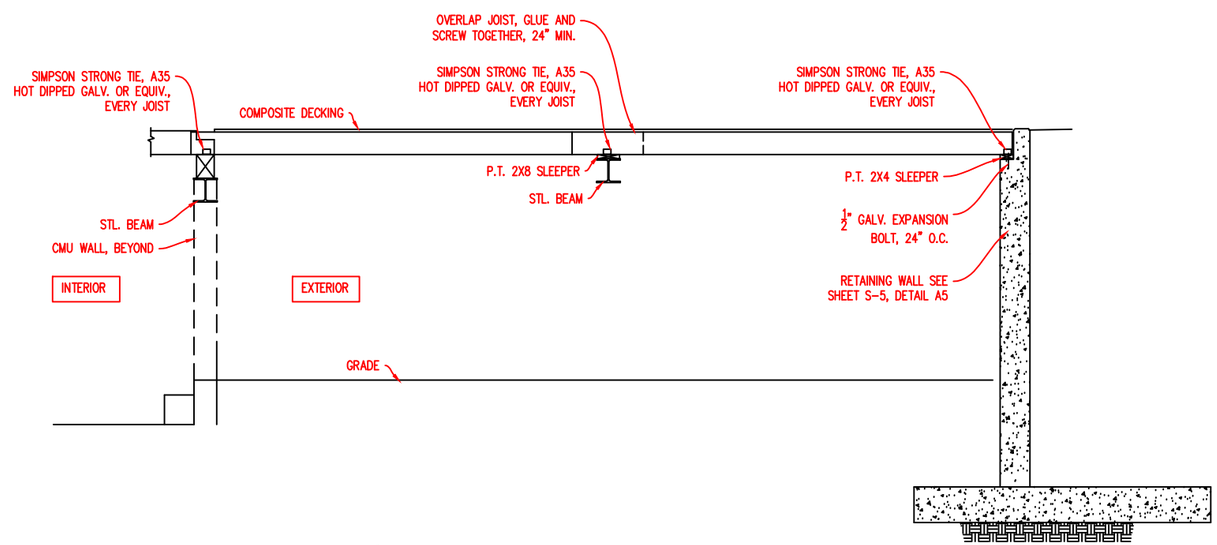

2 / S-4 RAMP SECTION (ELEVATION LOOKING SOUTH)

SCALE: 1/2" = 1'-0"

REVISIONS	

10

COA 0019839

PRELIMINARY
APPROVAL
CERTIFIED

SCALE: Noted
DRAWN BY: RTS
CURRENT DATE: 2/28/23

CUSTOMER: RUDOLPH SENECAL
GROUP:
LOCATION: 40 HARGRAVE RD. WINDSOR, NY 13865
JOB No.:

IT IS A VIOLATION OF LAW FOR ANY PERSON, UNLESS HE IS ACTING UNDER THE DIRECTION OF A LICENSED PROFESSIONAL ENGINEER TO ALTER THIS DOCUMENT.

STATE OF NEW YORK · RICHARD L. PIERCE · 54749 · LICENSED PROFESSIONAL ENGINEER

Richard L. Pierce

License expiration date: 6/30/2025

PIERCE ENGINEERING, P.C.
3975 AMBER ROAD SYRACUSE, NEW YORK 13215

SECTIONS
SENECAL BARN
WINDSOR, NEW YORK 13865

DWG. No.: S-3
CAD FILE:

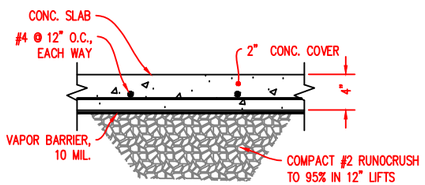

A1 CONCRETE SLAB DETAIL
SCALE: 1-1/2" = 1'-0"

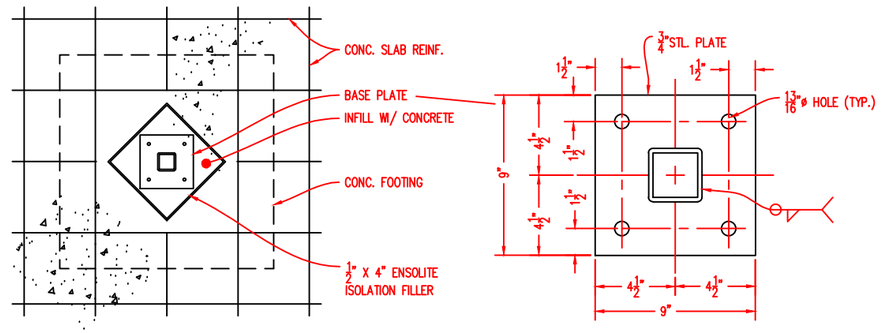

PLAN

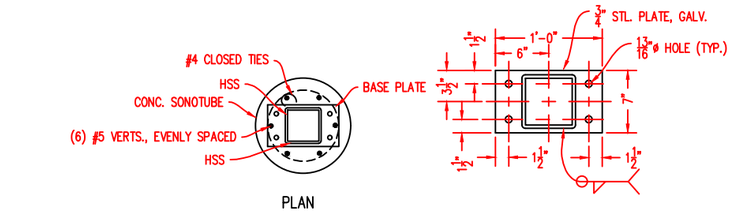

PLAN

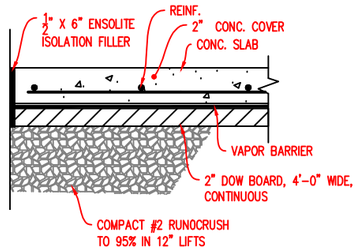

A2 CONCRETE SLAB PERIMETER DETAIL
SCALE: 1-1/2" = 1'-0"

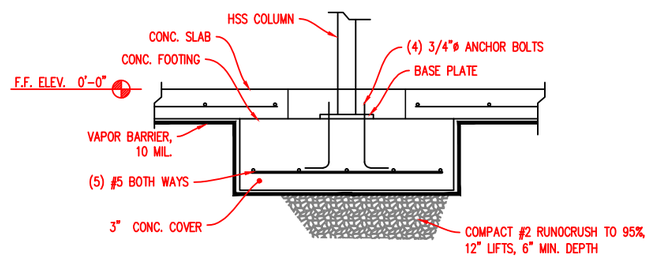

SECTION

A3 STEEL COLUMN CONCRETE FOOTING DETAIL
SCALE: 1-1/2" = 1'-0"

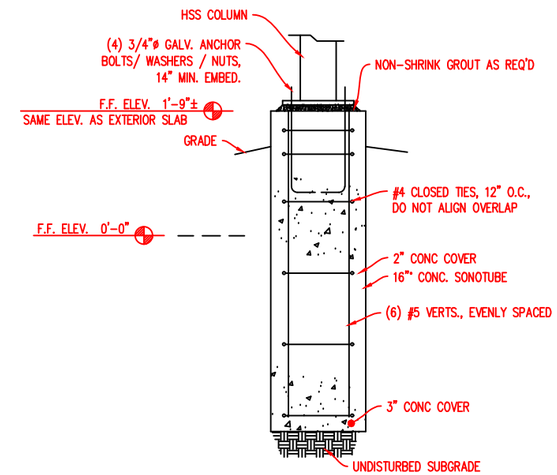

SECTION

A4 STEEL COLUMN CONCRETE FOOTING DETAIL
SCALE: 1-1/2" = 1'-0"

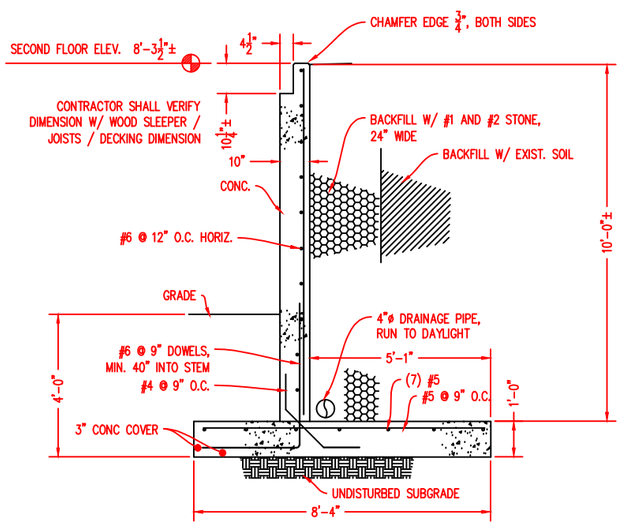

A5 RETAINING WALL DETAIL
SCALE: 1/2" = 1'-0"

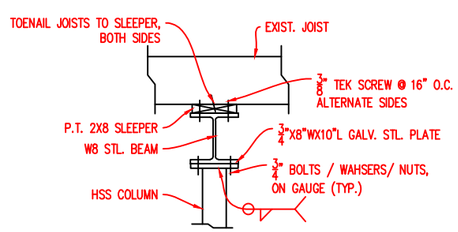

A6 STL. COLUMN / STL. BEAM / JOIST CONNECTION DETAIL
SCALE: 1" = 1'-0"

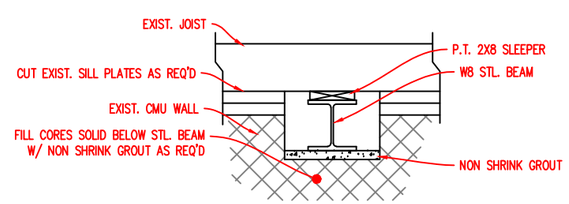

EXTERIOR WALL LOCATION: STL. BEAM SHALL HAVE MIN. 8" BEARING ON CMU WALL
INTERIOR WALL LOCATION: STL. BEAM SHALL HAVE MIN. 4 1/2" BEARING ON CMU WALL

ELEVATION

A7 STL. BEAM / CMU WALL BEARING CONNECTION DETAIL
SCALE: 1" = 1'-0"

IT IS A VIOLATION OF LAW FOR ANY PERSON, UNLESS HE IS ACTING UNDER THE DIRECTION OF A LICENSED PROFESSIONAL ENGINEER TO ALTER THIS DOCUMENT.

REVISIONS

10

COA 0019839

PRELIMINARY
APPROVAL
CERTIFIED

SCALE: Noted
DRAWN BY: RTS
CURRENT DATE: 2/28/23

CUSTOMER: RUDOLPH SENECAL
GROUP:
LOCATION: 40 HARGRAVE RD. WINDSOR, NY 13865
JOB No.:

STATE OF NEW YORK · RICHARD L. PIERCE · 84748 · LICENSED PROFESSIONAL ENGINEER

License expiration date: 6/30/2025

PIERCE ENGINEERING, P.C.
3975 AMBER ROAD SYRACUSE, NEW YORK 13215

DETAILS
SENECAL BARN
WINDSOR, NEW YORK 13865

DWG. No.: S-5
CAD FILE: